IBM Equity | MAPS | Related Function Menu

Maps

Maps | Search | Maps (12) | Liked (2) | New Map

Global Biodiesel Plants

Shows biodiesel plants around the world

Tags: Renewable, Energy

1 day ago

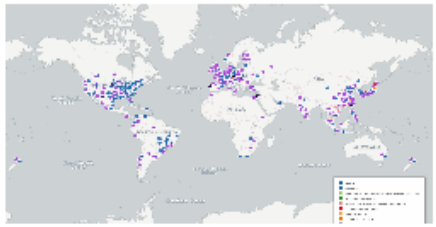

Global Biodiesel Plants

Shows biodiesel plants around the world

Tags: Renewable, Energy

3 days ago

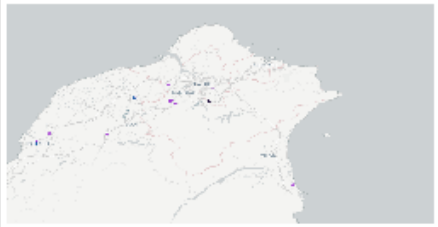

Global Biodiesel Plants

Shows biodiesel plants around the world

Tags: Renewable, Energy

4 days ago

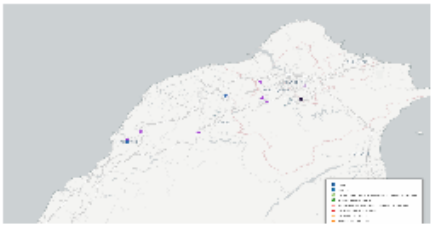

Global Biodiesel Plants

Shows biodiesel plants around the world

Tags: Renewable, Energy

14 days ago

Global Biodiesel Plants

Shows biodiesel plants around the world

Tags: Renewable, Energy

25 days ago

Global Biodiesel Plants

Shows biodiesel plants around the world

Tags: Renewable, Energy

25 days ago

Point	Note
1	Move 'Maps' dropdown down
2	Make space for 'Maps' dorpdown by moving over other tabs

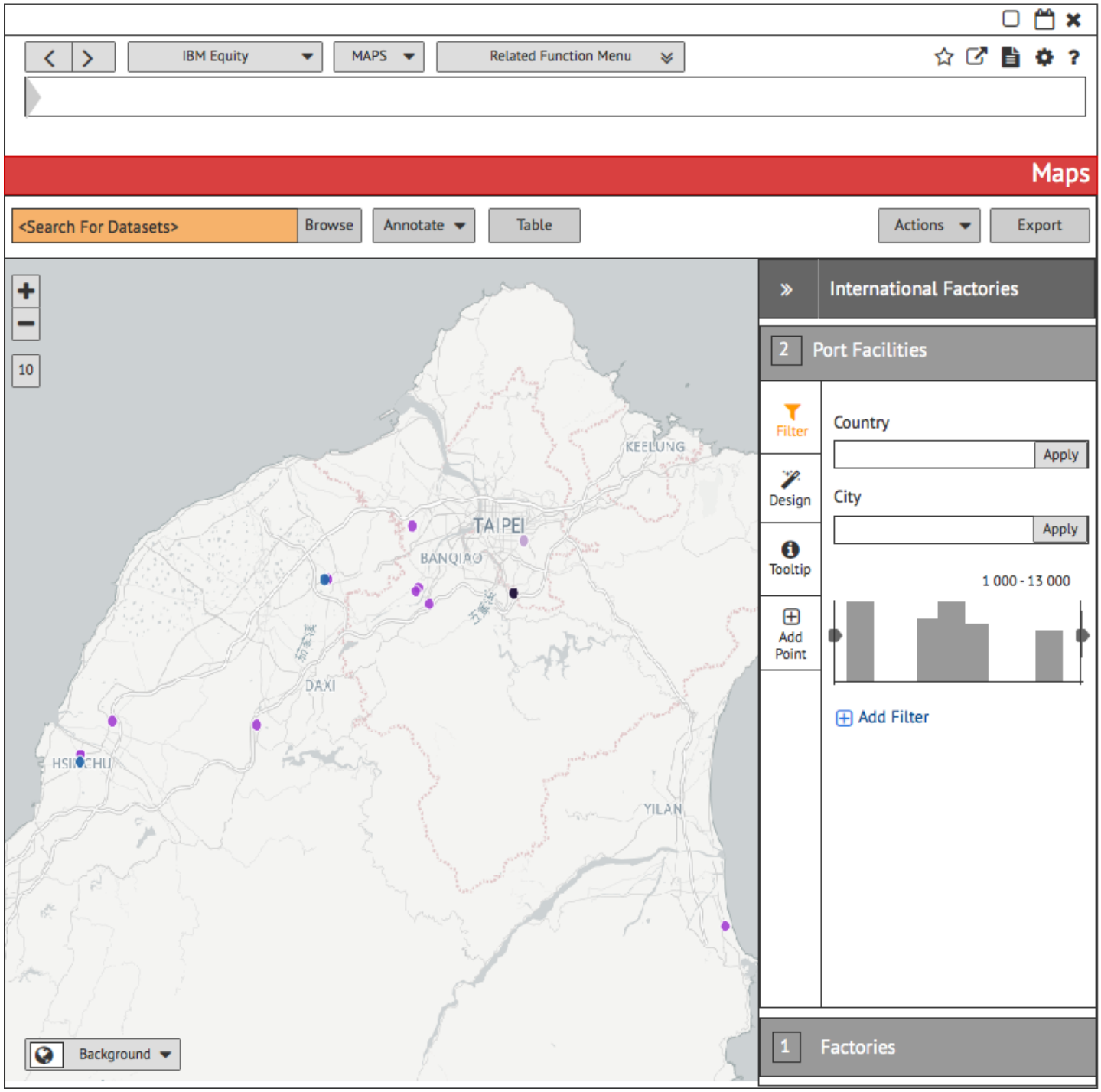

Point	Note
1	Move Map Title into separate Map Layer
2	Map Title should still be editable
3	Move Map View/Data View toggle control down and combine into a single button
4	Side panel is moved down so it is below the toolbar
5	'Add Element' has been relabeled 'Annotate'
6	'Edit' has been relabeled 'Actions'

IBM Equity | MAPS | Related Function Menu

Maps

<Search For Datasets> | Browse | Annotate | Table | Actions | Export

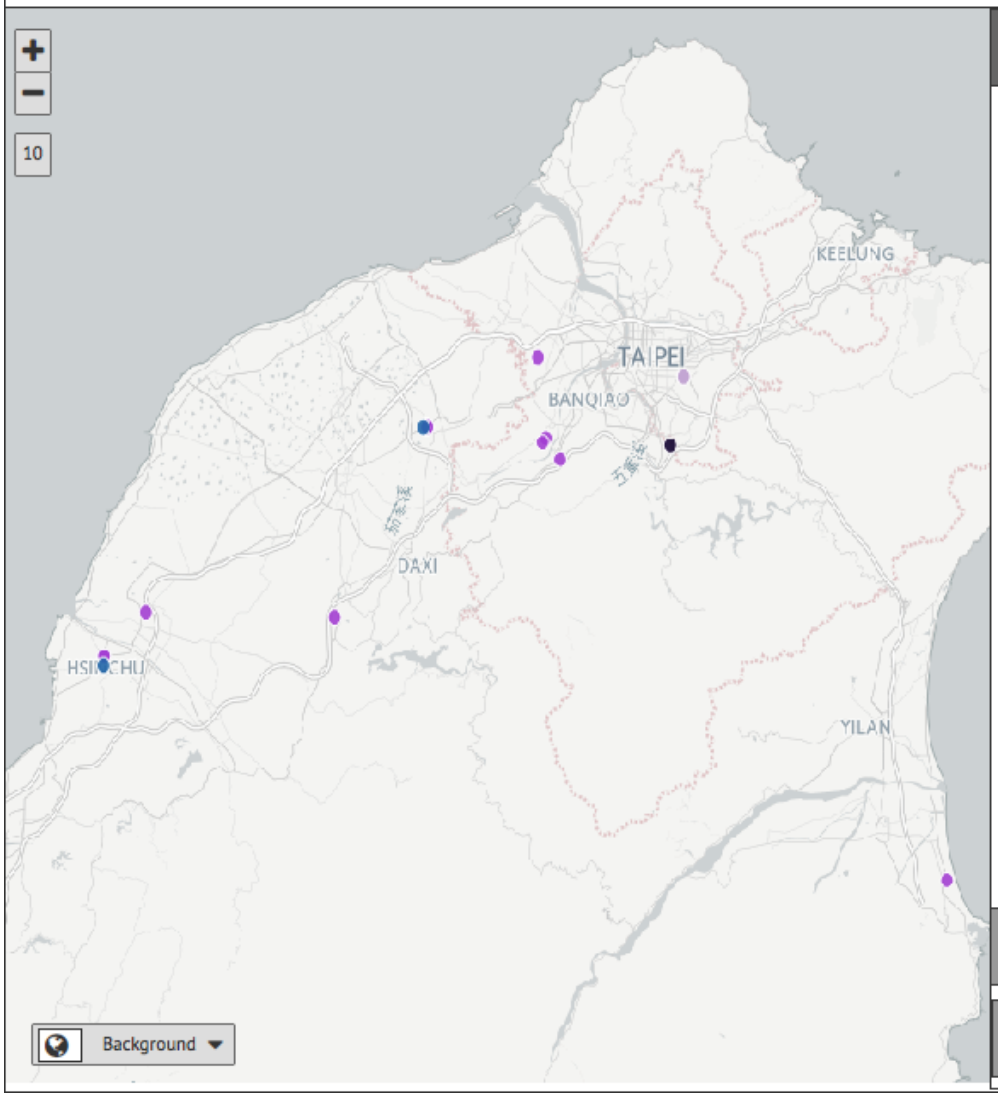

International Factories

Add Description

Add Tags

Display Options

- Show Title
- Show Description
- Show Search Box
- Show Zoom Controls
- Show Layer Selector
- Show Legends
- Show Fullscreen Option

2 Port Facilities

1 Factories

Point	Note
1	Move Edit Metadata fields into Map Layer
2	Move Options into Map Layer

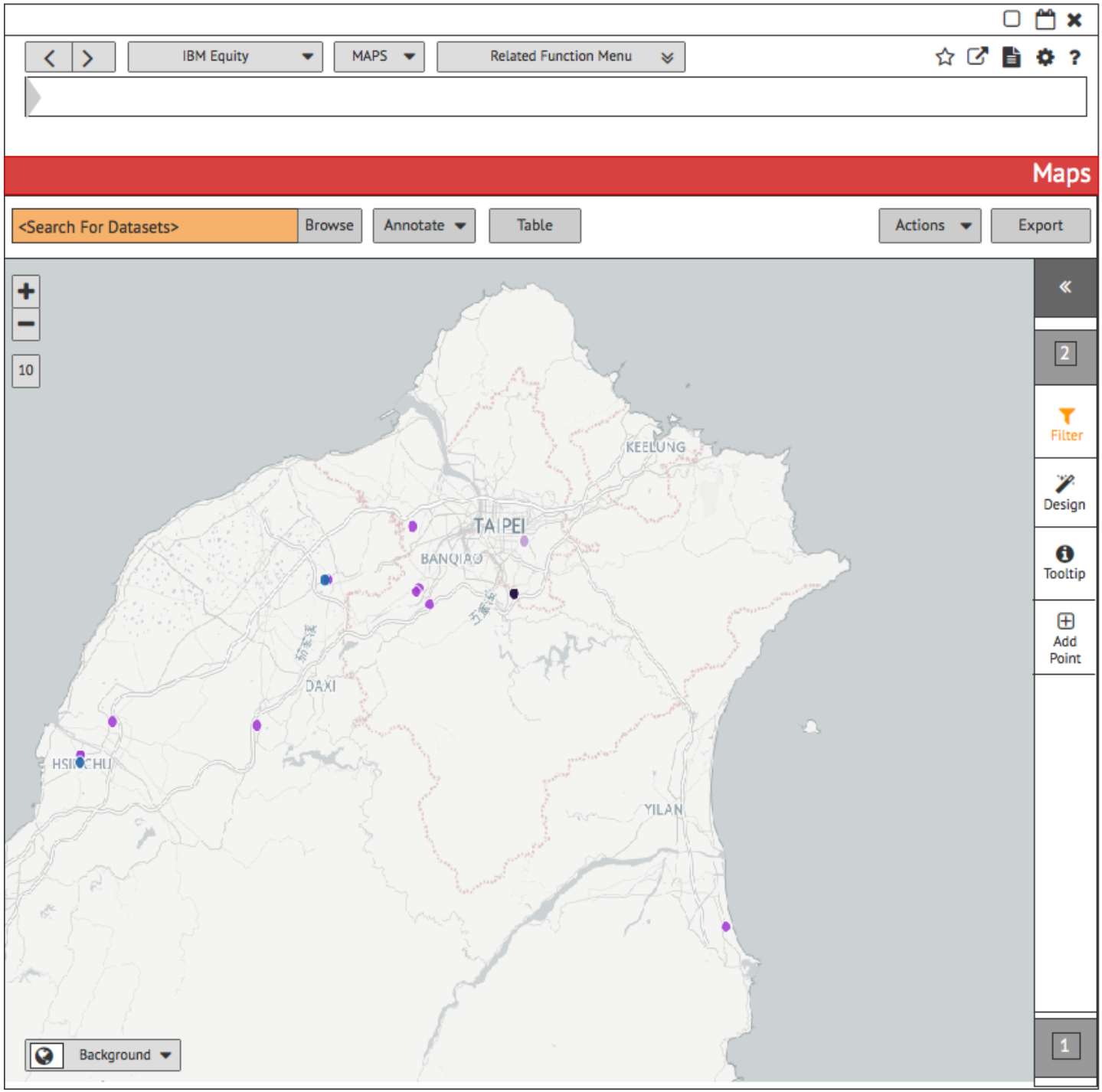

Point	Note
1	Clicking on the Map Layer Collapse icon will collapse the side panel
2	When the side panel is collapsed the arrow icon should change to point in the opposite direction

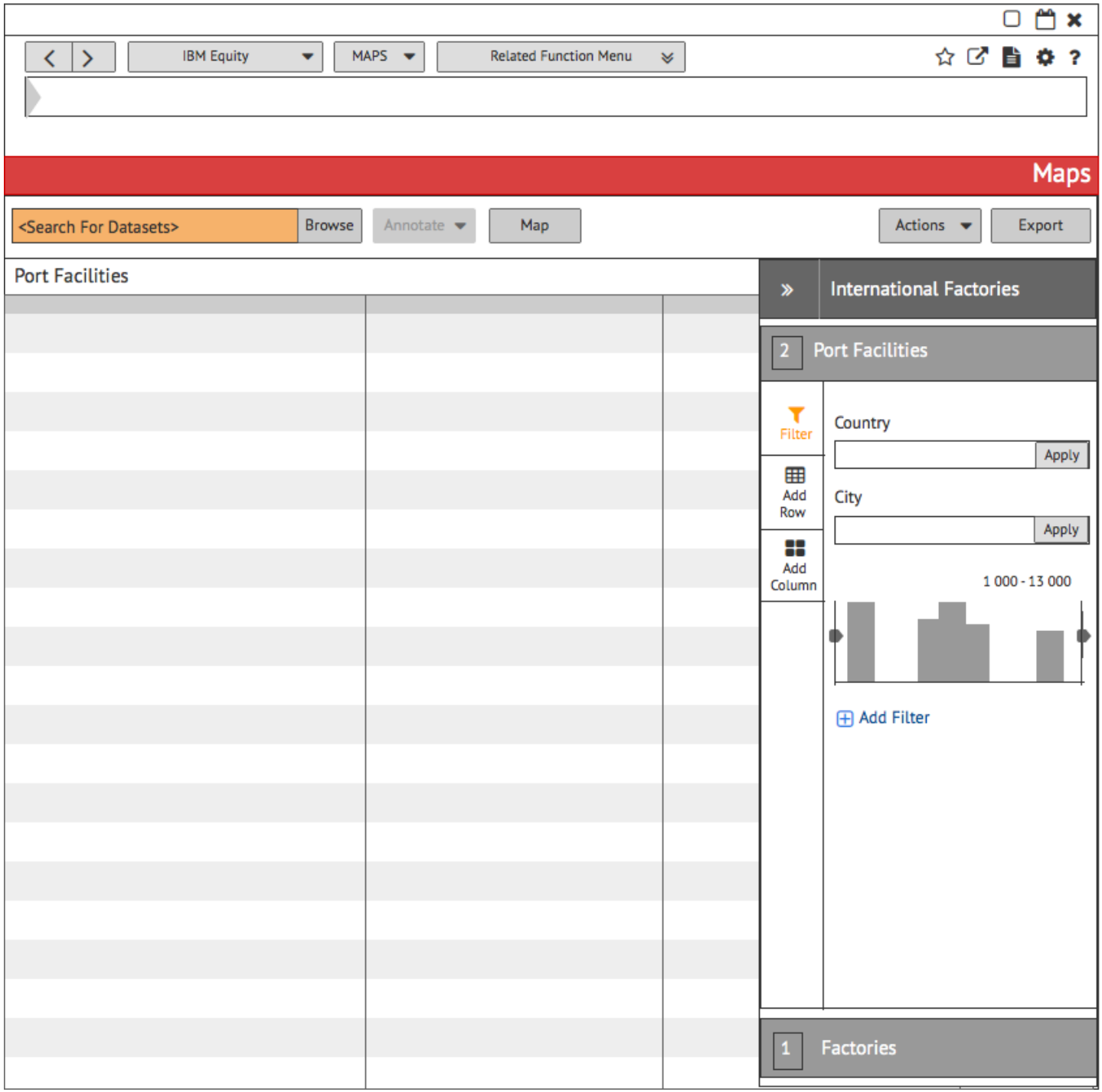

Point	Note
1	Toggle to Data View by clicking on the Table button
2	Change label from Table to Map in the toggle button
3	Clicking the Map button will return to the Map View
4	Move grid down to reveal second level toolbar
5	Add Dataset title above grid to show current selected dataset
6	Disable Annotate button in Data View

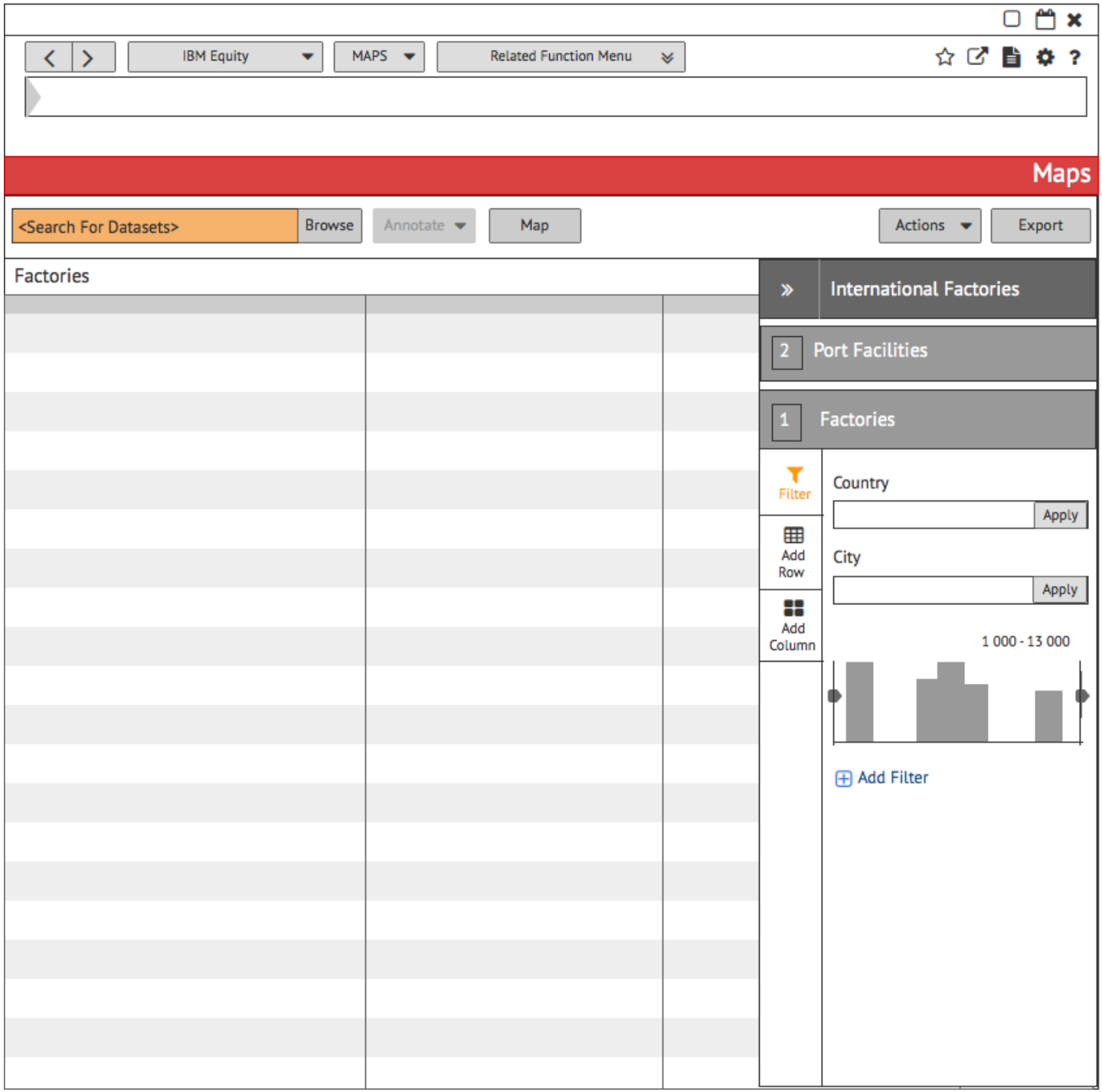

Point	Note
1	Dataset title changes when new dataset is selected

IBM Equity | MAPS | Related Function Menu

Maps

<Search For Datasets> | Browse | Annotate | Map | Actions | Export

Factories

International Factories

Add Description

Add Tags

Display Options

- Show Title
- Show Description
- Show Search Box
- Show Zoom Controls
- Show Layer Selector
- Show Legends
- Show Fullscreen Option

2 Port Facilities

1 Factories

Point	Note
1	When Map Layer is selected in Data View the last active dataset remains active

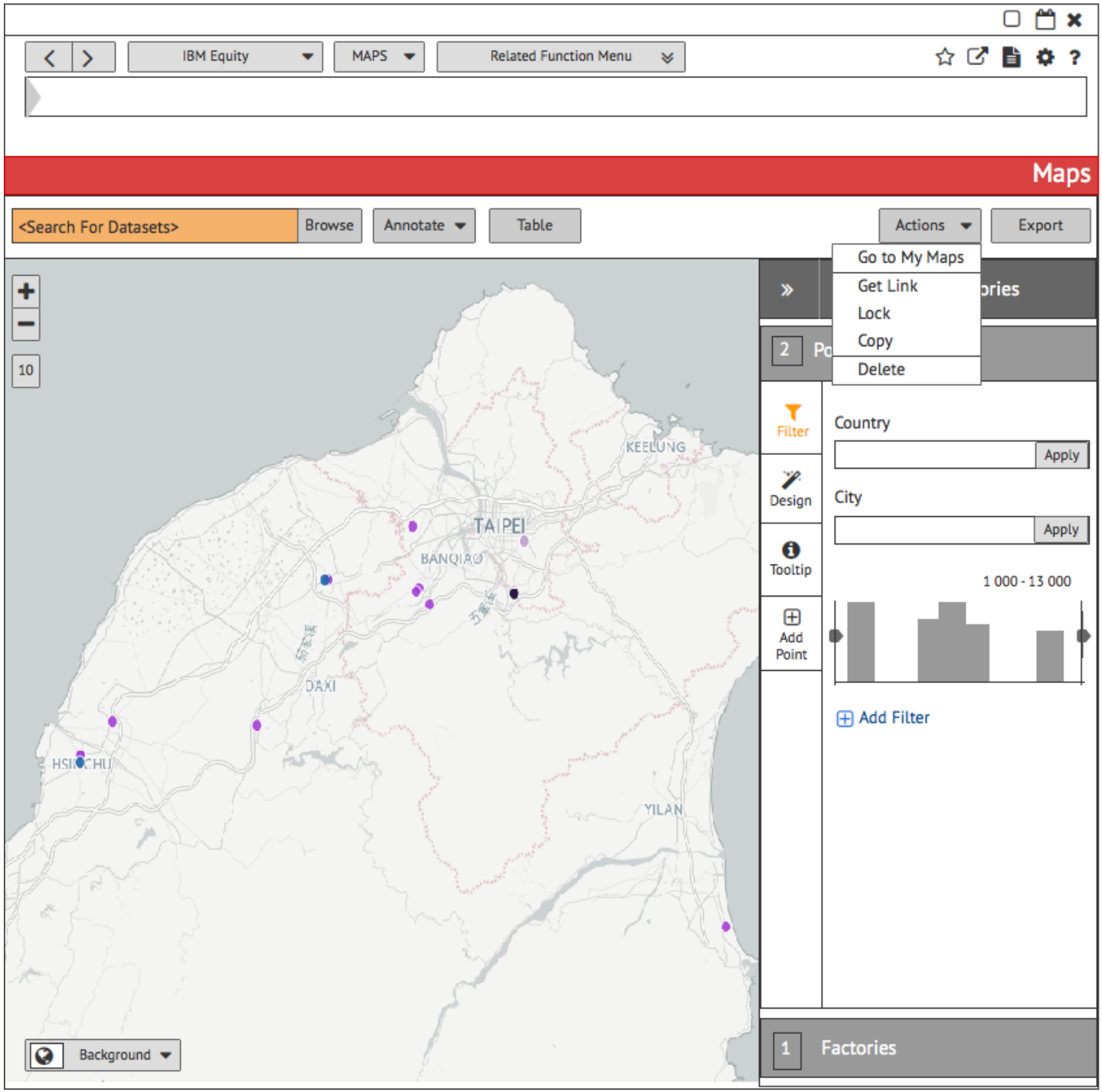

Point	Note
1	Back arrow functionality is moved below the Actions (Edit) button with the label 'Go to My Maps'. This allows users to navigate back to Map Library.
2	'Go to My Maps' link is shown whether in map or data view. It navigates back to Map Library from both views.